Latest commit

michaeljb
[core] allow icons and upgrades to have a `loc` set to specify render…
3 years ago
4b6e4f8 · 3 years ago

History

History

200 lines (143 loc) · 9.02 KB
·

Breadcrumbs

1. 18xx

/

TILES.md

Top

File metadata and controls

- Preview
- Code
- Blame

200 lines (143 loc) · 9.02 KB
·
Raw

Development Routes

Some app routes that may be of interest to developers:

- `/map/<game_title>` - renders the given game's map
- `/tiles/all` - renders all of the track tiles (and generic map hex "tiles") defined in `lib/engine/tile.rb`
- `/tiles/<tile_name>` - renders a single tile at large scale (tile must be defined in `lib/engine/tile.rb`)
- `/tiles/<game_title>/<hex_coord_or_tile_name>` - renders a single hex or tile the given game at large scale. Multiple hex coords or tile names can be given, separated by `+`.
- `/tiles/<game_titles>/all` - renders all of the track tiles (and map hex "tiles") for the given games (multiple game titles can be given, separated by `+`). The game titles are fuzzy matched.

Optional URL params for above routes:

- `r=<rotation(s)>` - specify the rotation with an `Integer`, multiple rotations with `+`-separated `Integers`, or `all` to see all 6. Preprinted tiles are not rotated. This param is ignored at `/tiles/all`.
- `n=<location_name>` - specify a location name to render for tiles that have at least one stop. Preprinted tiles with location names are not overridden. This param is ignored at `/tiles/all`.
- `grid` - show the triangular grid on the hexes to identify regions on the tile
- Rotation can be specified in `<tile_name>` by adding it after a `-`, e.g., `/tiles/9-1` renders tile #9 with rotation 1, and `/tiles/7-2+8-2` renders tiles 7 and 8 both with rotation 2. Tiles that have rotation specified in this way ignore the `r=` param.

Anatomy of a Tile

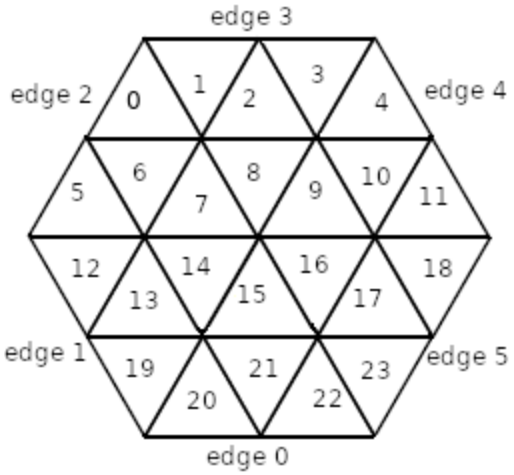

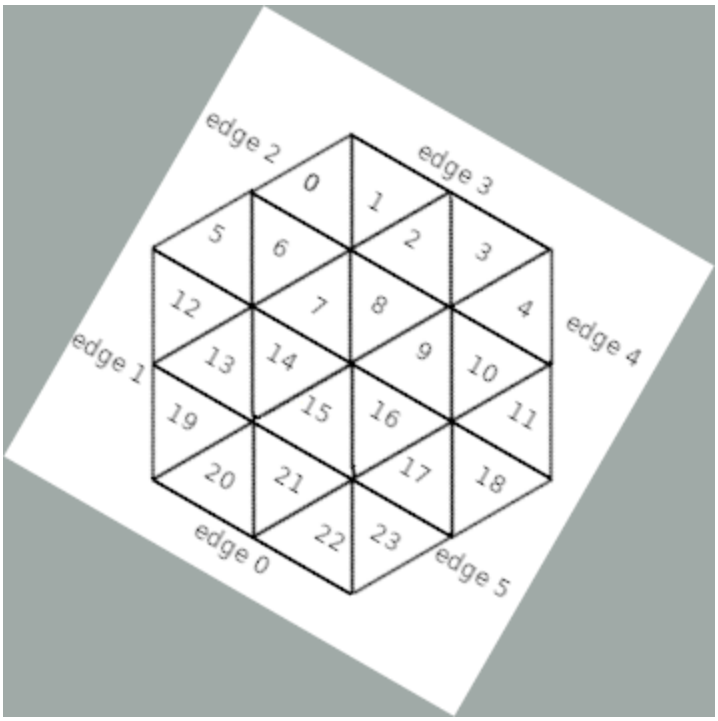

Illustrations of Lanes

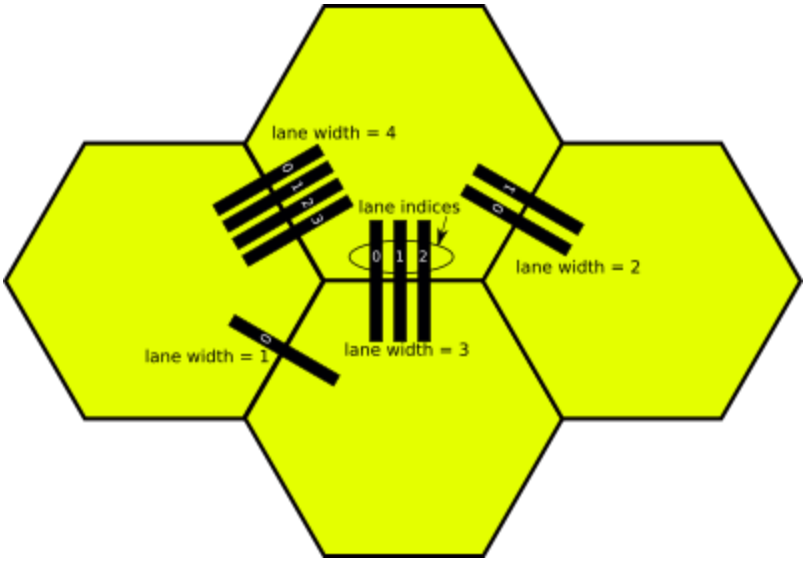

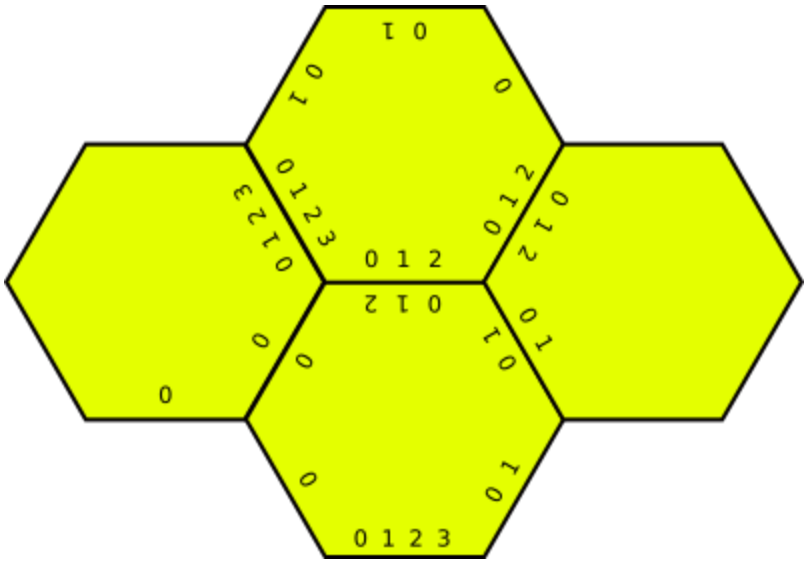

Tile language

Main parts are separated by `;`. Sub parts are separated by `,`. If a sub part takes a list of properties, those properties are separated by `|`.

Some parts of a tile are not defined in this string but at other parts of the game config/code:

- color
- location name(s)
- city slots reserved for corporations/companies (e.g., home token locations)
- company "blockers" that prevent tile lays in the hex

Main Parts

- **city**
  - **slots** - integer - how many tokens can fit in this city (default: `1`)
- **town**
- **offboard** - this revenue center is not actually rendered, but changes how the track to it is rendered; track to offboards are pointed
- **path**
  - **a** and **b** - *required* - the two points connected by this path; can be integer to indicate edge number, or an underscore followed by an integer to refer by index to a city/town/offboard/junction defined earlier on the tile
  - **terminal** - `1` - indicates that path is part of a non-passthru path, typically for off-board cities. Tapered track will be drawn. If a `2` is used instead, the tapered track will be drawn much shorter.
  - **ignore** - `1` - indicates that path should be ignored when node walk is trying to map available paths and hexes.
  - **a_lane** - integer.integer - first integer specifies the lane width for the **a** path endpoint, the second integer specifies the lane index, or position within the lane. 0 is the most clockwise position.
  - **b_lane** - integer.integer - first integer specifies the lane width for the **b** path endpoint, the second integer specifies the lane index, or position within the lane. 0 is the most clockwise position.
  - **lanes** - integer - number of parallel paths. Creates multiple copies of this path with **a_lane** and **b_lane** for each path generated automatically and set rationally.

    - **track** - `broad/narrow/dual` - used for display and connectivity. Defaults to `broad`.
- **label** - large letter(s) on tile (e.g., "Chi", "OO", or "Z")
- **upgrade**
    - **cost** - *required* - integer
    - **terrain** - `mountain`/`water` - multiple terrain types separated by `|`
    - **loc** - (currently only supported for `:pointy` layouts) corner to render the upgrade in, `5.5` to be where edges `5` and `0` meet, `0.5` for edges `0` and `1`, and so on
- **border**
    - **edge** - *required* - integer - which edge to modify
    - **type** - `mountain`/`water`/`impassable` - Border type. If not' specified, a line matching the tile's color is drawn on top of the edge's normal black line so that two adjacent tiles appear joined.
    - **cost** - integer - cost to cross for mountain/water borders
- **junction** - the center point of a Lawson-style tile
- **icon**
    - **image** - *required* - name of image, will be rendered with file at `public/icons/#{image}.svg`
    - **name** - name of this icon; default is value given for `image`
    - **sticky** - `1` indicates the icon should remain visible when a tile upgrade is placed on this hex
    - **blocks_lay** - indicates this tile cannot be laid normally but can only be laid by special ability, such as a private company's ability.
    - **loc** - (currently only supported for `:pointy` layouts) corner to render the upgrade in, `5.5` to be where edges `5` and `0` meet, `0.5` for edges `0` and `1`, and so on
- **frame**
    - **color** - *required* - the color of the frame
    - **color2** - A second color to display on the frame

Town/City/Offboard sub parts

Towns, cities, and offboards have a few "sub parts" in common:

- **revenue** - *required* - single integer, or revenues for different phases (separated by "|")
    - phase based revenue has the phase and revenue separated by an underscore, e.g., `yellow_40`
- **groups** - strings separated by `|`; routes cannot contain more than one revenue center from a group, e.g., "East" is a group in 1846 as routes cannot run E-E
- **hide** - `1` indicates that the revenue for this revenue center should not be rendered

Towns

- **style**
    - `rect` (rectangle) - default when 1 or 2 paths connect to the town
    - `dot` - default when 0 or 3+ paths connect to the town
    - `hidden` - don't show at all, useful for special offboards that count as towns instead of cities; construct with a hidden town and `terminal` paths

Lanes

Lanes are used to specify paths for tiles that have double-track, treble-track and quad-track. Every path endpoint (**a** and **b**) has two lane attributes associated with it: *width* and *index*. The *width* specifies the number of tracks

that connect to a given edge. The *index* specifies the position of that particular path within those tracks. Typically, only the **lanes** sub part for a path needs to be given. That will automatically create n "parallel" paths between the edges or nodes specified on the **path**. The only time **a_lane** or **b_lane** need to be given is if the endpoints need to be connected in an unusual way (for instance going from a double-track edge to a single-track edge).

Examples

- tile #1

```
town=revenue:10;town=revenue:10;path=a:1,b:_0;path=a:_0,b:3;path=a:0,b:_1;path=a:_1,b:4
```

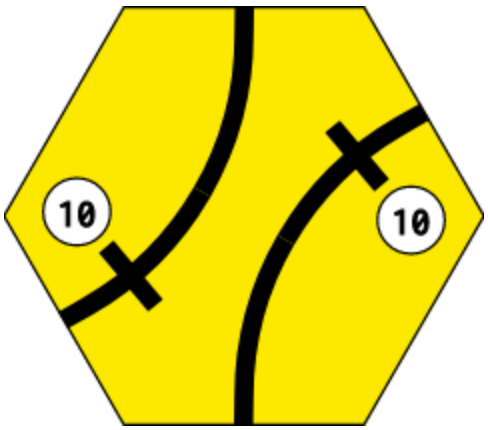

- tile #23

```
path=a:0,b:3;path=a:0,b:4
```

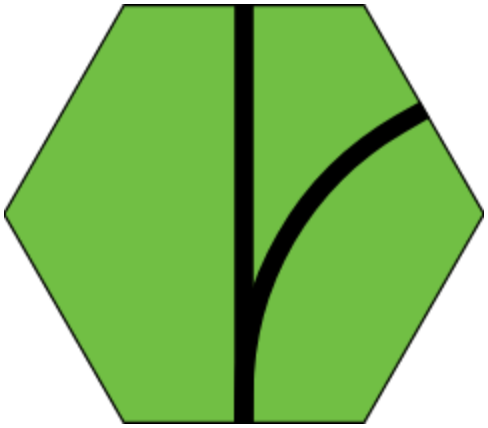

- Lawson tile #81

```
junction;path=a:0,b:_0;path=a:2,b:_0;path=a:4,b:_0
```

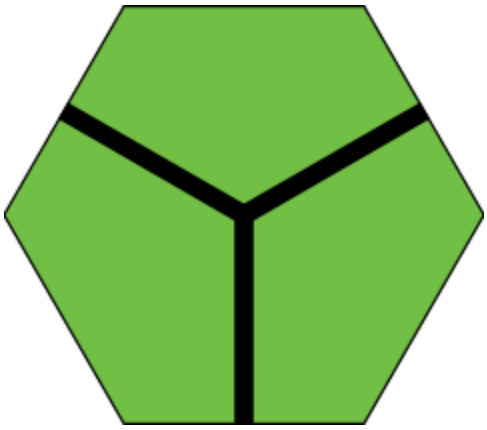

- 1889 - tile 439

```
city=revenue:60,slots:2;path=a:0,b:_0;path=a:2,b:_0;path=a:4,b:_0;label=H;upgrade=cost:80
```

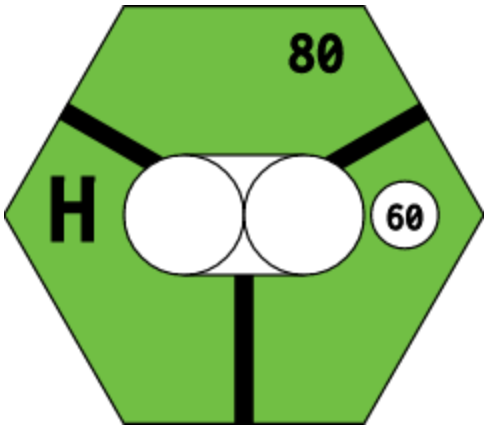

- 1889 - preprinted tile for H5

```
upgrade=cost:80,terrain:water|mountain
```

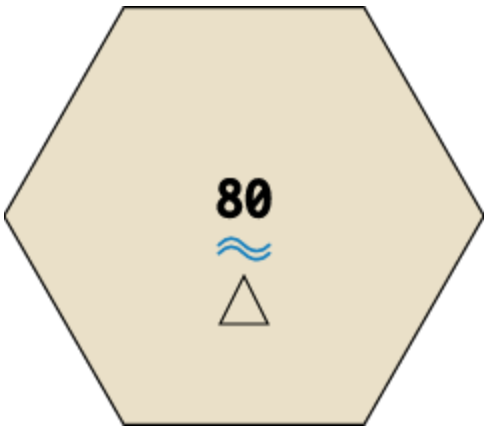

- 18Chesapeake - preprinted tiles for A3 and B2
  - A3 - `city=revenue:yellow_40|green_50|brown_60|gray_80,hide:1,groups:Pittsburgh;path=a:5,b:_0;border=edge:4`
  - B2 - `offboard=revenue:yellow_40|green_50|brown_60|gray_80,groups:Pittsburgh;path=a:0,b:_0;border=edge:1`

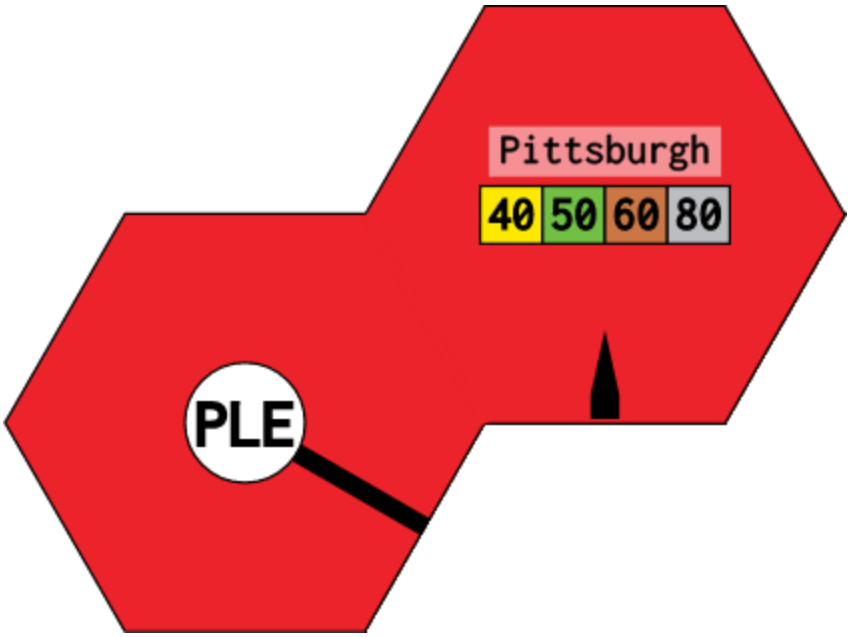

- 18Chesapeake - preprinted tile for H6

```
city=revenue:30;city=revenue:30;path=a:1,b:_0;path=a:4,b:_1;label=OO;upgrade=cost:40,terrain:water
```

- 18Chesapeake - preprinted tile for K3

```
town=revenue:0;town=revenue:0
```

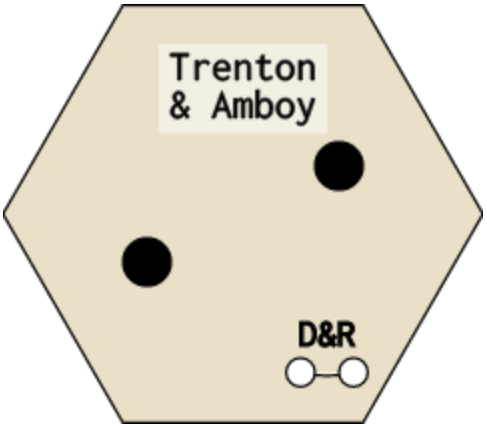

- 18MEX - Upgrade for Mexico City

```
city=revenue:60,slots:3,loc:center;town=revenue:10,loc:2;path=a:0,b:_0;path=a:1,b:_0;path=a:3,b:_0;path=a:2,b:_1;path=a:5,b:_0,lanes:2;path=a:_1,b:_0;label=MC
```

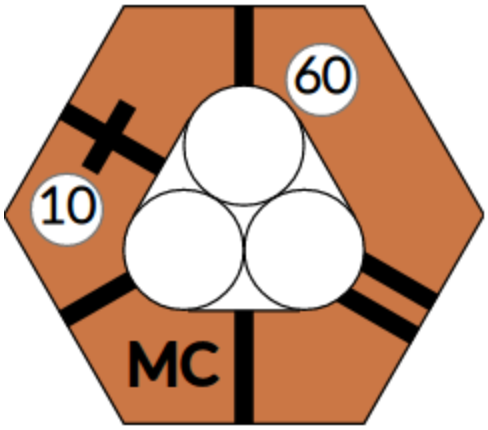

- 18MEX - Upgrade for Puebla

```
town=revenue:10;path=a:2,b:_0,a_lane:2.1;path=a:5,b:_0;path=a:2,b:4,a_lane:2.0;label=P
```

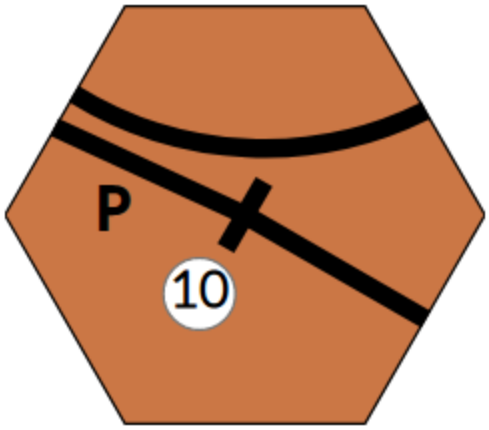

- 1831 - tile 301c (title not implemented)
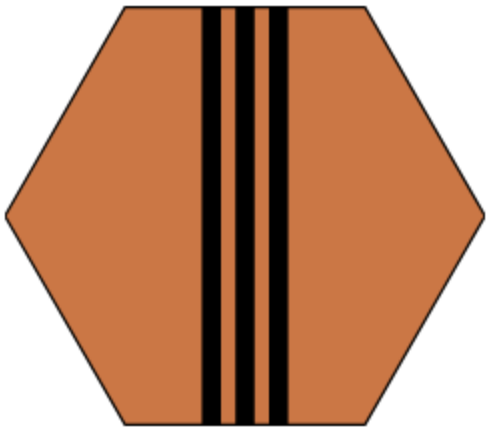
```
path=a:0,b:3,lanes:3
```